Output:
Test Case 1:

Shortest Path Finder
Enter starting point: Miami
Multiple states found. Please select:
1. AZ Arizona
2. FL Florida
3. MO Missouri
4. OK Oklahoma
5. TX Texas
Enter choice (1-5): 2
Enter destination: Atlanta
Multiple states found. Please select:
1. GA Georgia
2. IL Illinois
3. IN Indiana
4. KS Kansas
5. LA Louisiana
6. MI Michigan
7. MO Missouri
8. NE Nebraska
9. TX Texas
Enter choice (1-9): 1

Finding shortest path from Miami FL to Atlanta GA...
Start at 1.42 miles from Miami FL
then take L---I-95 1.43 miles North to Miami FL
then take L---I-95 2.56 miles North to El Portal FL
then take L---I-95 5.53 miles North to Golden Glades FL
then take L---FL-826 0.54 miles North-West to Norland FL
then take T---US-441 5.25 miles North to Utopia FL
then take T---US-441 5.27 miles North to Broadview Park FL
then take P---FL-84 0.06 miles West to Broadview Park FL
then take T---US-441 8.00 miles North to Broadview-Pompano Park FL
then take L-T-? 4.17 miles North-East to Coconut Creek FL
then take L-T-? 3.43 miles North to Hillsboro Ranches FL
then take L-T-? 4.74 miles North to Hamptons at Boca Raton FL
then take L-T-? 5.93 miles North to Oriole FL
then take L-T-? 11.35 miles North to Greenacres FL
then take L-T-? 4.25 miles North to Golden Lakes FL
then take L-T-? 2.53 miles North-East to Plantation Mobile Home Park FL
then take L-T-? 6.04 miles North to Palm Beach Gardens FL
then take L-T-? 3.00 miles North to Palm Beach Gardens FL
then take L-T-? 6.71 miles North to Limestone Creek FL

then take L-T-? 13.69 miles North-West to Palm City FL
then take L-T-? 1.81 miles North-West to Palm City FL
then take L-T-? 2.74 miles North-West to Palm City FL
then take L-T-? 16.07 miles North to Fort Pierce South FL
then take L-T-? 0.77 miles North-West to Fort Pierce South FL
then take L-T-? 0.46 miles North-West to Fort Pierce South FL
then take L---I-95 1.33 miles North to Fort Pierce South FL
then take L---I-95 2.17 miles North to Fort Pierce North FL
then take L---I-95 0.69 miles North-West to Fort Pierce North FL
then take L---I-95 14.69 miles North-West to West Vero Corridor FL
then take L---I-95 32.33 miles North-West to June Park FL
then take L---I-95 20.09 miles North to Cocoa West FL
then take L---I-95 1.28 miles North-West to Cocoa West FL
then take L---I-95 2.77 miles North to Sharpes FL
then take L---I-95 6.27 miles North to Port St. John FL
then take L---I-95 3.53 miles North to Titusville FL
then take L---I-95 8.00 miles North to Mims FL
then take L---I-95 20.18 miles North to Edgewater FL
then take L---I-95 4.87 miles North-West to Glencoe FL
then take L---I-95 11.24 miles North-West to South Daytona FL
then take L---I-95 1.40 miles North-West to Daytona Beach FL
then take L---I-95 6.04 miles North to Ormond Beach FL
then take L---I-95 5.51 miles North to Ormond-By-The-Sea FL
then take L---I-95 10.25 miles North to Flagler Beach FL
then take L---I-95 14.22 miles North-West to Marineland FL
then take L---I-95 6.91 miles North-West to St. Augustine Shores FL
then take L---I-95 5.72 miles North-West to St. Augustine South FL
then take L---I-95 6.68 miles North to St. Augustine FL
then take P---FL-16 0.28 miles East to St. Augustine FL
then take L---I-95 19.51 miles North-West to Fruit Cove FL
then take L---I-95 1.14 miles North to Fruit Cove FL
then take P---US-1 4.75 miles North-West to Jacksonville FL
then take L---US-1 3.75 miles North-West to Jacksonville FL
then take L---US-1 1.61 miles North-West to Jacksonville FL
then take L---I-95/US-1/US-90 0.58 miles West to Jacksonville FL
then take P---US-1/US-90 1.02 miles North to Jacksonville FL
then take P---US-1/US-17/US-90 0.44 miles North to Jacksonville FL
then take P---US-90 0.83 miles West to Jacksonville FL
then take P---I-95 0.26 miles North to Jacksonville FL
then take P---US-23 2.88 miles North-West to Jacksonville FL
then take P---US-1/US-23 1.46 miles North-West to Jacksonville FL
then take P---US-1/US-23 2.73 miles North-West to Nassau Village-Ratliff FL
then take P---US-1/US-23 11.16 miles North-West to Callahan FL
then take P---US-1/US-23 0.43 miles North-West to Callahan FL
then take P---US-1/US-23 17.29 miles North-West to Folkston GA
then take L---US-1/US-23/US-301/GA-4 3.91 miles North-West to Folkston GA

then take L---US-1/US-23/US-301/GA-4 2.60 miles North to Homeland GA
then take P---US-1/US-23/GA-4/GA-15/GA-121 11.66 miles North-West to Homeland GA
then take P---US-1/US-23/GA-4 18.77 miles North-West to Waycross GA
then take P---US-1/US-23/GA-4 1.34 miles North-West to Waycross GA
then take P---US-1/US-23/GA-4 23.16 miles North to Alma GA
then take P---US-1/US-23/GA-4 6.00 miles North to Alma GA
then take P---US-23/GA-19 17.38 miles North-West to Hazlehurst GA
then take P---US-23/GA-19 0.84 miles North to Hazlehurst GA
then take P---US-23/US-341/GA-19/GA-27 0.59 miles North-West to Hazlehurst GA
then take P---US-23/US-341/GA-19/GA-27 6.33 miles North-West to Lumber City GA
then take P---GA-27/US-23/US-341 16.12 miles North-West to McRae GA
then take P---GA-27/US-23/US-341 10.00 miles West to Chauncey GA
then take P---US-23/US-341/GA-27/GA-165 0.61 miles West to Chauncey GA
then take P---US-23/US-341/GA-27 7.82 miles North-West to Eastman GA
then take PB--US-23/bus-US-341/bus-GA-27 0.60 miles North-West to Eastman GA
then take P---US-23/GA-87 0.46 miles North-West to Eastman GA
then take P---US-23/GA-87 11.88 miles North-West to Cochran GA
then take P---US-23/GA-87/GA-257 0.58 miles North-West to Cochran GA
then take P---US-23/GA-87 2.56 miles North-West to Cochran GA
then take P---US-23/GA-87 1.91 miles North to Cochran GA
then take P---US-23/GA-87 1.55 miles North-West to Cochran GA
then take P-A-US-23/alt-US-129/GA-87/GA-112 2.43 miles North-West to Cochran GA
then take P-A-US-23/alt-US-129/GA-87 7.55 miles North-West to Robins AFB GA
then take P-A-US-23Alternate-US-Route-129/GA-87 19.34 miles North-West to Macon GA
then take L---I-16/GA-404 3.95 miles North-West to Macon GA
then take L---I-16/GA-404 0.70 miles North-West to Macon GA
then take L---I-16/GA-404 1.16 miles West to Macon GA
then take L---I-75/GA-401 5.60 miles North-West to Payne GA
then take L---I-75/GA-401 7.19 miles North-West to Forsyth GA
then take L---I-75/GA-401 7.14 miles North-West to Forsyth GA
then take L---I-75/GA-401 0.64 miles North-West to Forsyth GA
then take L---I-75/GA-401 1.43 miles North-West to Forsyth GA
then take L---I-75/GA-401 1.21 miles North-West to Forsyth GA
then take L---I-75/GA-401 11.99 miles North-West to Jackson GA
then take L---I-75/GA-401 4.35 miles North-West to Jenkinsburg GA
then take L---I-75/GA-401 12.56 miles North-West to Blacksville GA
then take L---I-75/GA-401 8.96 miles North-West to Stockbridge GA
then take L---I-75/GA-401 0.83 miles North-West to Stockbridge GA
then take L---I-75/GA-401 6.42 miles West to Morrow GA
then take P---US-19/US-41/GA-3 3.36 miles North to Forest Park GA
then take P---US-19/US-41/GA-3 1.44 miles North to Hapeville GA
then take P---US-19/US-41/GA-3 2.10 miles North-West to Hapeville GA
then take P---US-19/US-41/GA-3 0.97 miles North to Hapeville GA
then take P---US-19/US-41/GA-3 2.86 miles North to Atlanta GA
then take P---US-19/US-41/GA-3 0.35 miles North to Atlanta GA
then take P---US-19/US-41/GA-3 1.83 miles North to Atlanta GA

then continue 0.75 miles to Atlanta GA

Total distance: 637.83 miles.

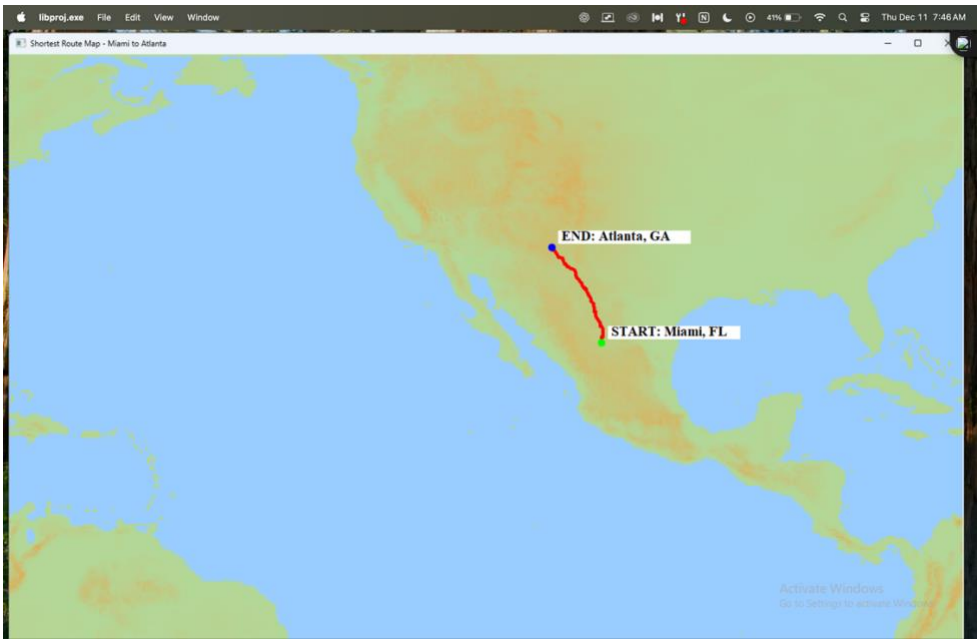

Test Case 2:

Shortest Path Finder
Enter starting point: Boston
Multiple states found. Please select:
1. MA Massachusetts
2. IN Indiana
3. GA Georgia
Enter choice (1-3): 1
Enter destination: Springfield
Multiple states found. Please select:
1. CO Colorado
2. FL Florida
3. GA Georgia
4. IL Illinois
5. KY Kentucky
6. LA Louisiana
7. MA Massachusetts
8. MI Michigan
9. MN Minnesota
10. MO Missouri
11. NE Nebraska
12. NJ New Jersey
13. OH Ohio
14. OR Oregon
15. PA Pennsylvania
16. SC South Carolina

17. SD South Dakota
18. TN Tennessee
19. VA Virginia
20. VT Vermont
Enter choice (1-20): 7

Finding shortest path from Boston MA to Springfield MA...
Start at 1.28 miles from Boston MA
then take L-T-I-90 1.16 miles West to Cambridge MA
then take L-T-I-90 1.58 miles West to Brookline MA
then take L-T-I-90 4.89 miles West to Newton MA
then take L-T-I-90 2.07 miles West to Wellesley MA
then take L-T-I-90 10.57 miles West to Framingham MA
then take L-T-I-90 5.19 miles West to Cordaville MA
then take L-T-I-90 8.14 miles West to Westborough MA
then take L-T-I-90 1.52 miles West to Worcester MA
then take L-T-I-90 2.16 miles West to Worcester MA
then take L-T-I-90 1.97 miles West to Worcester MA
then take T---US-20 2.71 miles South-West to Oxford MA
then take T---US-20 1.96 miles West to Oxford MA
then take T---US-20 10.22 miles West to Sturbridge MA
then take T---US-20 12.00 miles West to Palmer MA
then take T---US-20/MA-32 0.49 miles West to Palmer MA
then take T---US-20 0.48 miles West to Palmer MA
then take T---US-20 9.12 miles West to Springfield MA
then take O---MA-147 4.48 miles South-West to Springfield MA
then continue 1.44 miles to Springfield MA

Total distance: 83.44 miles.

Jonathan Lugo

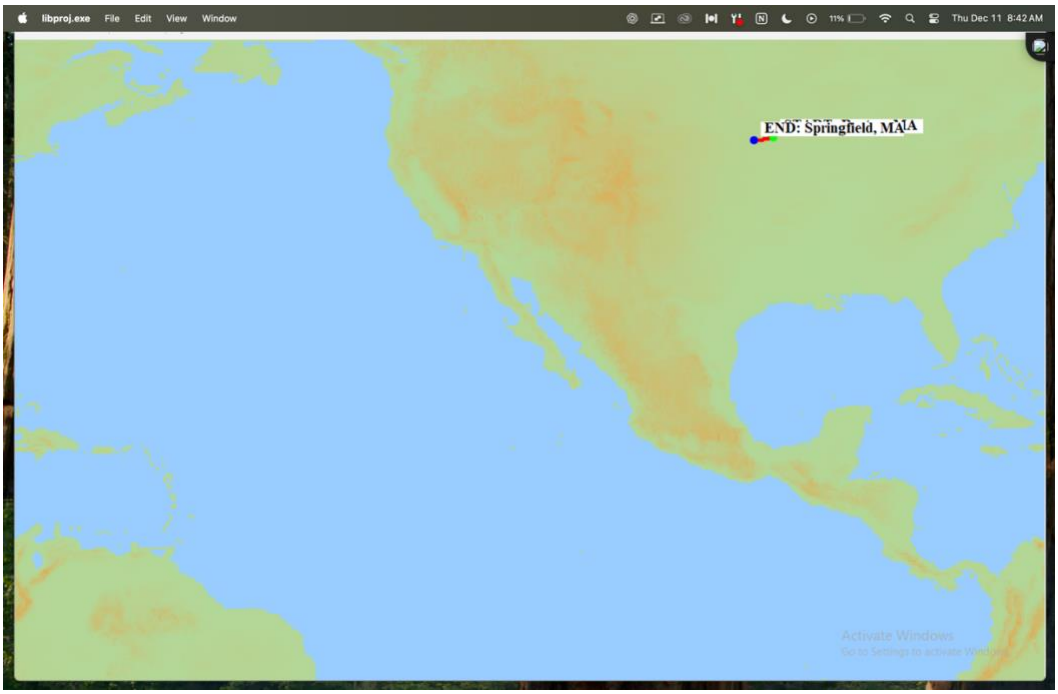

Test Case 3:

Shortest Path Finder
Enter starting point: Los Angeles
Enter destination: New York

Finding shortest path from Los Angeles CA to New York NY...
Start at 4.65 miles from Los Angeles CA
then take L---CA-134 5.18 miles East to Glendale CA
then take L---CA-134 0.67 miles East to Glendale CA
then take L---CA-134 2.75 miles East to Glendale CA
then take L---CA-2 4.10 miles North to La Canada Flintridge CA
then take L---I-210/CA-2 1.09 miles East to La Canada Flintridge CA
then take T---CA-2 22.35 miles North-East to Wrightwood CA
then take T---CA-2 15.80 miles East to Wrightwood CA
then take P---CA-138 8.28 miles South-East to Wrightwood CA
then take L---I-15 7.64 miles North-East to Hesperia CA
then take L---I-15 8.20 miles North-East to Victorville CA
then take L---I-15/CA-18 2.56 miles North-East to Victorville CA
then take L---I-15 28.61 miles North-East to Barstow CA
then take L---I-15 0.90 miles East to Barstow CA
then take L---I-15 2.64 miles North-East to Nebo Center CA
then take L---I-15 56.36 miles East to Tecopa CA
then take L---I-15 37.77 miles East to Goodsprings NV
then take L---I-15 10.44 miles North to Goodsprings NV
then take L---I-15 27.00 miles North-East to Enterprise NV
then take L---I-15 5.71 miles North to Enterprise NV
then take L---I-15 1.47 miles North to Enterprise NV
then take T---NV-604 2.51 miles North to Paradise NV

then take T---NV-604 3.58 miles North-East to Winchester NV
then take T---NV-604 0.60 miles North-East to Winchester NV
then take T---NV-604 1.10 miles North-East to Winchester NV
then take T---NV-604 1.76 miles North-East to North Las Vegas NV
then take T---NV-604 3.31 miles North-East to Nellis AFB NV
then take T---NV-604 1.81 miles North-East to Nellis AFB NV
then take T---NV-604 7.47 miles North-East to Nellis AFB NV
then take L---I-15/US-93 6.05 miles North-East to Nellis AFB NV
then take L---I-15 26.15 miles North-East to Moapa Town NV
then take L---I-15 30.64 miles East to Mesquite NV
then take L---I-15 7.98 miles North-East to Mesquite NV
then take L---I-15 18.93 miles East to St. George UT
then take L---I-15 6.21 miles North-East to St. George UT
then take L---I-15 2.50 miles North-East to St. George UT
then take L---I-15 6.58 miles North-East to Washington UT
then take P---UT-9 9.18 miles East to Hurricane UT
then take P---UT-9 1.99 miles North-East to La Verkin UT
then take P---UT-9 32.69 miles East to Orderville UT
then take P---US-89 20.36 miles North-East to Alton UT
then take P---US-89 19.29 miles North-East to Panguitch UT
then take T---UT-12 13.10 miles East to Tropic UT
then take T---UT-12 56.32 miles North-East to Torrey UT
then take T---UT-24 42.54 miles East to Torrey UT
then take T---UT-24 41.46 miles North-East to Green River UT
then take L---I-70/US-50 8.22 miles North-East to Green River UT
then take L---I-70/US-6/US-50 23.61 miles East to Green River UT
then take L---I-70/US-6/US-50 22.13 miles East to Castle Valley UT
then take L---I-70/US-6/US-50 9.25 miles North-East to Castle Valley UT
then take L---I-70/US-6/US-50 16.53 miles North-East to Fruita CO
then take L---I-70/US-6/US-50 9.22 miles East to Fruita CO
then take T---US-6/US-50 4.31 miles East to Fruita CO
then take T---US-6/US-50 10.73 miles South-East to Redlands CO
then take L---I-70 10.95 miles East to Clifton CO
then take L---I-70 7.16 miles East to Palisade CO
then take L---I-70/US-6 5.88 miles North-East to Palisade CO
then take L---I-70/US-6 31.66 miles North-East to Rifle CO
then take T---US-6 3.06 miles East to Rifle CO
then take T---US-6 17.93 miles East to New Castle CO
then take L---I-70/US-6 6.93 miles East to Glenwood Springs CO
then take L---I-70/US-6 19.95 miles East to Gypsum CO
then take L---I-70 14.73 miles East to Eagle CO
then take T---US-6 1.82 miles South-East to Edwards CO
then take L---I-70 13.40 miles East to Minturn CO
then take L---I-70/US-6 17.56 miles East to Frisco CO
then take L---I-70/US-6 5.77 miles North-East to Frisco CO
then take L---I-70/US-6/CO-9 4.03 miles North-East to Silverthorne CO

then take L---I-70 10.52 miles East to Keystone CO
then take L---I-70/US-6 12.55 miles East to Empire CO
then take L---I-70/US-6/US-40 7.86 miles East to Idaho Springs CO
then take L---I-70/US-6/US-40 5.08 miles East to Idaho Springs CO
then take P---US-6 1.71 miles East to Idaho Springs CO
then take P---US-6 9.31 miles East to Golden CO
then take L---CO-58 4.72 miles East to Applewood CO
then take L---I-70 0.69 miles North-East to Wheat Ridge CO
then take L---I-70 2.42 miles East to Wheat Ridge CO
then take L---I-70 1.75 miles East to Mountain View CO
then take L---I-70 1.88 miles East to Mountain View CO
then take L---I-70 1.30 miles East to North Washington CO
then take L---I-70/US-6/US-85 2.44 miles East to North Washington CO
then take L---I-70 0.38 miles East to North Washington CO
then take L---I-70 2.34 miles East to Derby CO
then take L---I-70 1.02 miles East to Commerce City CO
then take L---I-70/US-36 2.73 miles East to Aurora CO
then take L---I-70/US-36 2.04 miles East to Aurora CO
then take L---I-70/US-36 3.51 miles South-East to Aurora CO
then take L---I-70/US-36/US-40 16.21 miles East to Bennett CO
then take L---I-70/US-36/US-40/US-287 10.82 miles East to Byers CO
then take P---US-36 33.72 miles East to Deer Trail CO
then take P---US-36 19.98 miles East to Akron CO
then take P---US-36 20.59 miles East to Seibert CO
then take P---US-36/CO-59 7.38 miles East to Vona CO
then take P---US-36 24.41 miles East to St. Francis KS
then take P---US-36/US-385 2.72 miles North to Wray CO
then take P---US-36 11.12 miles East to St. Francis KS
then take P---US-36 11.38 miles East to St. Francis KS
then take P---US-36/KS-27 6.51 miles East to St. Francis KS
then take P---US-36 9.03 miles East to Bird City KS
then take P---US-36 26.64 miles East to Atwood KS
then take P---US-36 14.29 miles East to Herndon KS
then take P---US-36 13.00 miles East to Oberlin KS
then take P---US-36 28.26 miles East to Norton KS
then take P---US-36/KS-383 5.92 miles East to Norton KS
then take P---US-36/KS-383 5.88 miles East to Almena KS
then take P---US-36 24.50 miles East to Phillipsburg KS
then take P---US-36/US-183 1.05 miles East to Phillipsburg KS
then take P---US-36 19.95 miles East to Athol KS
then take P---US-36 8.06 miles East to Smith Center KS
then take P---US-36/US-281 11.95 miles East to Lebanon KS
then take P---US-36 11.41 miles East to Esbon KS
then take P---US-36 1.91 miles East to Mankato KS
then take P---US-36/KS-28 8.04 miles East to Mankato KS
then take P---US-36/KS-14 1.84 miles East to Mankato KS

then take P---US-36 14.24 miles East to Courtland KS
then take P---US-36 11.01 miles East to Belleville KS
then take P---US-36 18.82 miles East to Haddam KS
then take P---US-36 6.64 miles East to Morrowville KS
then take P---US-36/KS-15 6.17 miles East to Washington KS
then take P---US-36 10.21 miles East to Hanover KS
then take P---US-36 10.49 miles East to Marysville KS
then take P---US-36/US-77 1.02 miles East to Marysville KS
then take P---US-36 12.24 miles East to Beattie KS
then take P---US-36 4.42 miles East to Axtell KS
then take P---US-36 10.94 miles East to Seneca KS
then take P---US-36 3.78 miles East to Seneca KS
then take P---US-36/KS-63 0.70 miles East to Seneca KS
then take P---US-36 13.45 miles East to Fairview KS
then take P---US-36/US-75 2.93 miles East to Fairview KS
then take P---US-36 11.02 miles East to Hiawatha KS
then take P---US-36 13.87 miles East to Highland KS
then take P---US-36 3.94 miles East to Highland KS
then take T---KS-7 6.89 miles South-East to Troy KS
then take P---US-36 12.58 miles East to Elwood KS
then take L---US-36 1.10 miles East to St. Joseph MO
then take L---US-36 0.31 miles East to St. Joseph MO
then take L---US-36 1.79 miles East to St. Joseph MO
then take L---US-36 0.70 miles East to St. Joseph MO
then take P---US-36 7.89 miles East to Easton MO
then take P---US-36/MO-31 3.94 miles East to Stewartsville MO
then take P---US-36 8.87 miles East to Osborn MO
then take P---US-36/MO-33 2.35 miles East to Osborn MO
then take P---US-36 6.58 miles East to Cameron MO
then take P---US-36 0.67 miles East to Cameron MO
then take P---US-36 11.80 miles East to Hamilton MO
then take P---US-36 23.96 miles East to Chillicothe MO
then take P---US-36 13.13 miles East to Meadville MO
then take P---US-36/MO-139 6.86 miles East to Laclede MO
then take P---US-36 5.75 miles East to Brookfield MO
then take P---US-36 6.67 miles East to Marceline MO
then take P---US-36 2.67 miles East to Bucklin MO
then take P---US-36/MO-129 6.12 miles East to New Cambria MO
then take P---US-36 1.69 miles East to New Cambria MO
then take P---US-36 5.67 miles East to Callao MO
then take P---US-36/MO-3 0.97 miles East to Callao MO
then take P---US-36 8.36 miles East to Macon MO
then take P---US-36 10.94 miles East to Clarence MO
then take P---US-36 12.27 miles East to Shelbina MO
then take P---US-36 16.47 miles East to Monroe City MO
then take P---US-24/US-36 12.15 miles East to Rensselaer MO

then take P---US-36 6.36 miles East to Hannibal MO
then take P---US-36 1.19 miles East to Hannibal MO
then take P---US-36 1.17 miles East to Hannibal MO
then take P---? 1.10 miles North-East to Hannibal MO
then take T---? 7.61 miles East to Hull IL
then take T---IL-57/IL-96 0.41 miles North to Hull IL
then take L---US-36 0.75 miles East to Hull IL
then take L---US-36 22.33 miles East to Griggsville IL
then take L---US-36 10.49 miles East to Florence IL
then take L---US-36 5.93 miles East to Winchester IL
then take O---? 9.23 miles East to Jacksonville IL
then take O---? 0.99 miles East to Jacksonville IL
then take P---US-67/IL-104 2.32 miles East to Jacksonville IL
then take T---IL-104 1.24 miles East to Jacksonville IL
then take O---? 1.88 miles East to South Jacksonville IL
then take L---US-36 22.36 miles East to Leland Grove IL
then take O---? 3.56 miles East to Jerome IL
then take O---? 2.91 miles North to Springfield IL
then take P---IL-97 0.40 miles South-East to Springfield IL
then take P---IL-29/IL-97 1.01 miles East to Springfield IL
then take P---IL-29/IL-97 2.10 miles East to Grandview IL
then take P---IL-97 0.64 miles East to Clear Lake IL
then take L---I-72/US-36 0.56 miles East to Clear Lake IL
then take O---? 17.79 miles East to Illiopolis IL
then take O---? 11.03 miles East to Harristown IL
then take O---? 0.98 miles East to Harristown IL
then take P---US-36 2.44 miles East to Decatur IL
then take P---US-36 1.55 miles East to Decatur IL
then take P---US-36 1.37 miles East to Decatur IL
then take P---US-36/IL-121 2.99 miles South-East to Long Creek IL
then take P---US-36 8.62 miles East to Hammond IL
then take P---US-36 7.69 miles East to Hammond IL
then take P---US-36 5.44 miles East to Atwood IL
then take P---US-36 9.41 miles East to Tuscola IL
then take P---US-36 1.56 miles East to Tuscola IL
then take P---US-36 4.80 miles East to Camargo IL
then take P---US-36/IL-130 0.86 miles East to Camargo IL
then take P---US-36 11.67 miles East to Newman IL
then take P---US-36 14.08 miles East to Chrisman IL
then take P---US-36 7.63 miles East to Dana IN
then take P---US-36 6.86 miles East to Montezuma IN
then take P---US-36 9.28 miles East to Rockville IN
then take P---US-36 6.91 miles East to Rockville IN
then take P---US-36 11.86 miles East to Bainbridge IN
then take P---US-36 25.49 miles East to Avon IN
then take P---US-36 7.06 miles East to Speedway IN

then take O---? 2.38 miles East to Speedway IN
then take T---US-40 2.99 miles East to Indianapolis city IN
then take T---US-40/US-421 0.54 miles East to Indianapolis city IN
then take T---US-40/US-421 0.22 miles East to Indianapolis city IN
then take T---US-40 5.83 miles East to Warren Park IN
then take P---US-40 14.60 miles East to Greenfield IN
then take P---US-40 17.51 miles East to Dunreith IN
then take P---US-40 15.13 miles East to Cambridge City IN
then take P---US-40 13.11 miles East to Richmond IN
then take T---US-40 1.02 miles East to Richmond IN
then take P---US-40 3.56 miles East to New Paris OH
then take P---US-40 0.48 miles East to New Paris OH
then take T---US-40 9.97 miles East to West Manchester OH
then take T---US-40 13.21 miles East to Phillipsburg OH
then take T---US-40 3.93 miles East to Englewood OH
then take T---US-40/OH-48 1.01 miles South-East to Englewood OH
then take T---US-40 5.80 miles East to Vandalia OH
then take T---US-40 17.18 miles East to Springfield OH
then take T---US-40/OH-4 3.09 miles East to Springfield OH
then take T---US-40 6.06 miles East to South Vienna OH
then take T---US-40 15.49 miles East to London OH
then take T---US-40 14.86 miles East to Lincoln Village OH
then take T---US-40 3.74 miles East to Valleyview OH
then take T---US-40 1.49 miles East to Grandview Heights OH
then take T---US-40 1.12 miles East to Columbus OH
then take T---US-40/US-62 0.84 miles East to Columbus OH
then take T---US-40/US-62/OH-16 2.13 miles East to Bexley OH
then take T---US-40 5.21 miles East to Whitehall OH
then take O---US-40 13.13 miles East to Kirkersville OH
then take O---US-40 3.66 miles East to Hebron OH
then take T---US-40 2.12 miles East to Hebron OH
then take O---US-40 4.07 miles East to Harbor Hills OH
then take O---US-40 8.18 miles East to Gratiot OH
then take O---US-40 10.04 miles East to Zanesville OH
then take L---I-70 3.12 miles East to Zanesville OH
then take L---I-70 9.33 miles East to Norwich OH
then take L---I-70 15.71 miles East to Byesville OH
then take L---I-70 5.76 miles East to Old Washington OH
then take L---I-70/US-40 15.65 miles East to Morristown OH
then take L---I-70/US-40 1.84 miles East to Morristown OH
then take O---US-40 8.35 miles East to St. Clairsville OH
then take O---US-40 2.20 miles East to St. Clairsville OH
then take L---I-70 3.75 miles East to Neffs OH
then take L---I-70 0.83 miles East to Neffs OH
then take L---I-70 3.76 miles East to Brookside OH
then take L---I-70 0.42 miles East to Brookside OH

then take L---I-70 1.06 miles East to Bridgeport OH
then take L---I-70/US-40/US-250 0.84 miles East to Wheeling WV
then take L---I-70/US-40/US-250 0.25 miles East to Wheeling WV
then take L---I-70/US-40 1.99 miles East to Bethlehem WV
then take L---I-70/US-40 0.74 miles East to Bethlehem WV
then take L---I-70 8.42 miles East to West Alexander PA
then take L---I-70 13.45 miles East to Washington PA
then take T---US-40 1.75 miles East to Washington PA
then take T---PA-18 0.72 miles East to East Washington PA
then take T---US-19/US-40 1.92 miles South-East to East Washington PA
then take T---US-40 0.36 miles East to East Washington PA
then take L---I-79 1.01 miles North-East to East Washington PA
then take L---I-70 3.40 miles East to Cokeburg PA
then take L---I-70 7.18 miles East to Bentleyville PA
then take L---I-70 4.44 miles East to Twilight PA
then take L---I-70 2.06 miles East to Speers PA
then take L---I-70 0.73 miles North-East to Belle Vernon PA
then take L---I-70 0.91 miles North-East to Lynnwood-Pricedale PA
then take L---I-70 4.21 miles East to Smithton PA
then take L---I-70 4.84 miles East to Smithton PA
then take T---PA-31 7.67 miles East to Mount Pleasant PA
then take T---PA-31 1.22 miles East to Mount Pleasant PA
then take T---PA-31 8.21 miles East to Donegal PA
then take O---? 0.22 miles North-East to Donegal PA
then take L-T-I-70/I-76 0.57 miles South-East to Donegal PA
then take L-T-I-70/I-76 0.16 miles East to Donegal PA
then take L-T-I-70/I-76 17.12 miles East to Somerset PA
then take L-T-I-70/I-76 0.77 miles East to Somerset PA
then take L-T-I-70/I-76 1.39 miles South-East to Somerset PA
then take L-T-I-70/I-76 8.98 miles East to Shanksville PA
then take LTT-I-70/I-76 1.35 miles East to Shanksville PA
then take L-T-I-70/I-76 12.59 miles East to Schellsburg PA
then take L-T-I-70/I-76 3.43 miles East to Manns Choice PA
then take O---US-30 0.57 miles East to Manns Choice PA
then take O---US-30 2.33 miles East to Bedford PA
then take O---US-30 2.69 miles East to Bedford PA
then take O---US-30 4.45 miles East to Everett PA
then take OB--bus-US-30 0.65 miles East to Everett PA
then take OB--bus-US-30 1.32 miles East to Everett PA
then take O---US-30 5.90 miles East to Valley-Hi PA
then take P---US-30 0.54 miles East to Valley-Hi PA
then take P---US-30 2.00 miles North-East to Valley-Hi PA
then take L-T-I-76 9.51 miles East to McConnellsburg PA
then take L-T-I-76 1.70 miles East to McConnellsburg PA
then take L-T-I-76 1.47 miles East to McConnellsburg PA
then take L-T-I-76 0.38 miles East to McConnellsburg PA

then take L-T-I-76 8.20 miles East to Shade Gap PA
then take L-T-I-76 1.57 miles North-East to Shade Gap PA
then take L-T-I-76 2.01 miles East to Shade Gap PA
then take L-T-I-76 8.12 miles East to Newburg PA
then take L-T-I-76 11.06 miles East to Newville PA
then take L-T-I-76 11.92 miles East to Carlisle PA
then take L-T-I-76 1.93 miles East to Schlusser PA
then take P---US-11 1.32 miles East to New Kingstown PA
then take L---I-81 5.74 miles North-East to New Kingstown PA
then take L---I-81 6.55 miles East to Enola PA
then take L---I-81 1.20 miles East to Enola PA
then take L---I-81 1.22 miles South-East to Harrisburg PA
then take L---I-81/US-322 2.59 miles East to Progress PA
then take L---I-81 6.68 miles North-East to Skyline View PA
then take L---I-81 11.84 miles East to Jonestown PA
then take L---I-78 0.89 miles East to Jonestown PA
then take L---I-78 6.65 miles East to Fredericksburg PA
then take L---I-78/US-22 4.96 miles East to Strausstown PA
then take L---I-78/US-22 3.73 miles East to Strausstown PA
then take L---I-78/US-22 2.05 miles East to Strausstown PA
then take L---I-78/US-22 10.58 miles East to Hamburg PA
then take L---I-78/US-22 19.75 miles East to Ancient Oaks PA
then take L---I-78/US-22 2.06 miles East to Ancient Oaks PA
then take L---US-22 1.15 miles North-East to Ancient Oaks PA
then take L---US-22 0.53 miles East to Allentown PA
then take L---US-22 4.45 miles East to Fullerton PA
then take L---US-22 2.98 miles East to Catasauqua PA
then take L---US-22 0.81 miles North-East to Bethlehem PA
then take L---US-22 1.96 miles North-East to Bethlehem PA
then take L---US-22 2.63 miles East to Middletown PA
then take L---US-22 2.36 miles East to Palmer Heights PA
then take L---US-22 2.18 miles East to Wilson PA
then take L---US-22 2.27 miles East to Easton PA
then take P-T-US-22 0.37 miles East to Easton PA
then take P-T-US-22 0.48 miles East to Phillipsburg NJ
then take T-A-alt-US-22 3.53 miles East to Alpha NJ
then take L---I-78/US-22 13.01 miles East to Annandale NJ
then take L---I-78/US-22 1.14 miles East to Annandale NJ
then take L---I-78 5.95 miles East to White House Station NJ
then take L---I-78 5.72 miles East to Far Hills NJ
then take L---I-78 0.60 miles East to Far Hills NJ
then take L---I-78 9.49 miles East to Watchung NJ
then take L---I-78 8.46 miles East to Springfield NJ
then take L---I-78 3.50 miles East to Hillside NJ
then take L---I-78 3.02 miles East to Newark NJ
then take L---I-78 1.56 miles East to Newark NJ

then take L---US-1/US-9 2.32 miles North-East to Harrison NJ
then take L---US-1/US-9 2.49 miles East to Jersey City NJ
then take L---US-1/US-9 0.89 miles East to Jersey City NJ
then take L---US-1/US-9 0.97 miles South-East to Jersey City NJ
then take L-T-I-78 0.73 miles East to Hoboken NJ
then take LTT-I-78 0.83 miles East to Hoboken NJ
then take LTT-I-78 0.47 miles East to Hoboken NJ
then take L---? 0.78 miles East to Hoboken NJ
then take O---? 2.00 miles North-East to Hoboken NJ
then take L---NY-495 0.23 miles South-East to Hoboken NJ
then take LTT-I-495 1.03 miles East to New York NY
then take L---I-495 1.97 miles East to New York NY
then continue 1.54 miles to New York NY

Total distance: 2631.81 miles.

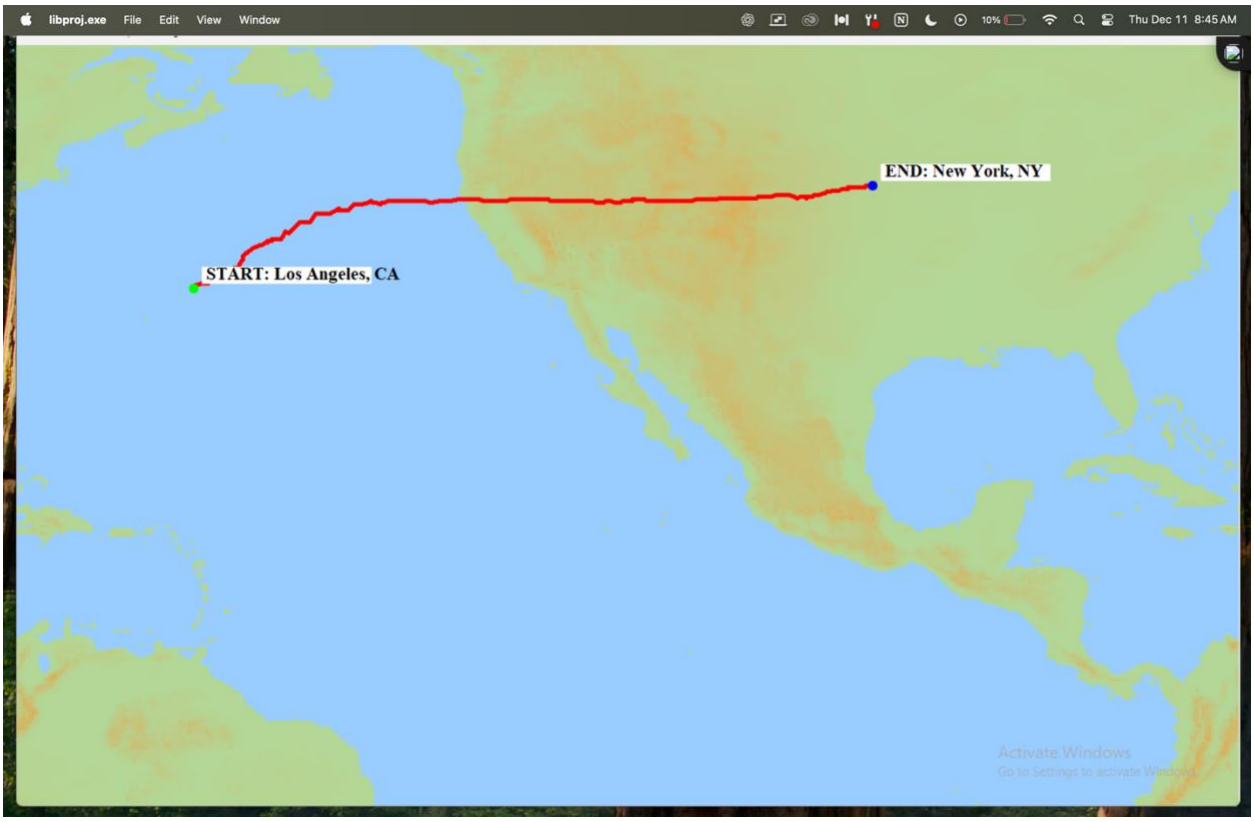

Test Case 4:

Shortest Path Finder
Enter starting point: Seattle
Enter destination: Austin
Multiple states found. Please select:
1. AR Arkansas
2. IN Indiana
3. MN Minnesota
4. PA Pennsylvania

Jonathan Lugo

5. TX Texas
Enter choice (1-5): 5

Finding shortest path from Seattle WA to Austin TX...
Start at 0.66 miles from Seattle WA
then take L---I-5 0.99 miles South to Seattle WA
then take L---I-5 8.43 miles South-East to Tukwila WA
then take L---I-5 1.58 miles South to Tukwila WA
then take L---I-5 5.00 miles South to Des Moines WA
then take L---WA-516 1.95 miles East to Kent WA
then take L---WA-167 5.42 miles South to Algona WA
then take P---WA-18 1.35 miles East to Auburn WA
then take T---WA-164 13.13 miles East to Enumclaw WA
then take P---WA-410 31.79 miles South-East to Greenwater WA
then take P---WA-410 36.01 miles East to Tieton WA
then take P---US-12 5.31 miles East to Naches WA
then take L---US-12 10.64 miles South-East to Selah WA
then take L---I-82/US-12/US-97 3.44 miles South-East to Terrace Heights WA
then take L---I-82/US-12/US-97 3.26 miles South to Union Gap WA
then take L---I-82/US-12 3.56 miles South-East to Wapato WA
then take T---? 7.17 miles South-East to Zillah WA
then take T---? 8.17 miles South-East to Granger WA
then take L---I-82/US-12 0.79 miles South-East to Granger WA
then take L---I-82/US-12 0.60 miles East to Granger WA
then take L---I-82/US-12 8.76 miles East to Sunnyside WA
then take L---I-82/US-12 4.99 miles South-East to Grandview WA
then take L---I-82/US-12 5.48 miles East to Prosser WA
then take L---I-82/US-12 3.01 miles East to Prosser WA
then take P---WA-22 0.50 miles South-West to Prosser WA
then take P---WA-221 19.79 miles South-East to Irrigon OR
then take P---WA-14 12.17 miles East to Umatilla OR
then take L---I-82/US-395 1.19 miles South-East to Umatilla OR
then take L---I-82/US-395 0.98 miles South-East to Umatilla OR
then take P---US-395/US-730 0.98 miles East to Umatilla OR
then take P---US-730 6.27 miles East to Hermiston OR
then take P---US-730 2.30 miles East to Hermiston OR
then take T---OR-37 22.77 miles South-East to Pendleton OR
then take P---US-30/OR-37 0.89 miles East to Pendleton OR
then take P---US-30 1.05 miles East to Pendleton OR
then take P---OR-11 0.73 miles East to Riverside OR
then take L---I-84/US-30 34.04 miles South-East to La Grande OR
then take L---I-84/US-30 8.19 miles East to Island City OR
then take L---I-84/US-30 2.98 miles South-East to Island City OR
then take L---I-84/US-30 19.02 miles South to North Powder OR
then take L---I-84 0.93 miles South-East to North Powder OR
then take T---US-30 16.54 miles South to Baker City OR

then take T---US-30 2.25 miles South-East to Baker City OR
then take L---I-84/US-30 36.46 miles South-East to Huntington OR
then take T---? 6.55 miles South-East to Huntington OR
then take L---I-84/US-30 3.55 miles South-East to Huntington OR
then take L---I-84/US-30 18.74 miles South-East to Ontario OR
then take L---I-84/US-30 0.85 miles South-East to Ontario OR
then take L---I-84 1.34 miles South-East to Fruitland ID
then take L---I-84 2.55 miles South-East to Fruitland ID
then take L---I-84 6.89 miles South-East to New Plymouth ID
then take L---I-84/US-30 14.89 miles South-East to Caldwell ID
then take L---I-84/US-30 1.15 miles South-East to Caldwell ID
then take L---I-84/US-20/US-26/US-30 0.79 miles South to Caldwell ID
then take L---I-84/US-20/US-26/US-30 1.75 miles South-East to Caldwell ID
then take L---I-84/US-30 5.37 miles South-East to Nampa ID
then take L---I-84/US-30 0.93 miles East to Nampa ID
then take L---I-84/ID-55/US-30 2.98 miles East to Nampa ID
then take L---I-84/US-30/ID-55 5.96 miles East to Meridian ID
then take L---I-84/US-30 2.00 miles East to Meridian ID
then take L---I-84/US-30 3.35 miles East to Boise City ID
then take L---I-84/US-30 2.65 miles South-East to Boise City ID
then take L---I-84/US-30 1.54 miles East to Boise City ID
then take L---I-84/US-30 0.94 miles East to Boise City ID
then take L---I-84/US-20/US-26/US-30 2.50 miles South-East to Boise City ID
then take L---I-84/US-20/US-26/US-30 32.55 miles South-East to Mountain Home ID
then take L---I-84/US-20/US-26/US-30 5.29 miles South-East to Mountain Home ID
then take L---I-84/US-26/US-30 4.09 miles South-East to Mountain Home ID
then take L---I-84/US-26/US-30 11.16 miles South-East to Glenns Ferry ID
then take L---I-84/US-26/US-30 2.27 miles East to Glenns Ferry ID
then take L---I-84/US-26/US-30 7.19 miles East to Glenns Ferry ID
then take TB--bus-I-84 7.44 miles East to Glenns Ferry ID
then take L---I-84/US-26/US-30 9.83 miles East to Bliss ID
then take L---I-84/US-26 1.42 miles South-East to Bliss ID
then take L---I-84 15.78 miles South-East to Wendell ID
then take L---I-84 8.44 miles East to Jerome ID
then take T---ID-25 1.46 miles East to Jerome ID
then take T---ID-25 3.83 miles East to Jerome ID
then take T---ID-25 12.02 miles South-East to Eden ID
then take O---ID-25 10.32 miles East to Hazelton ID
then take L---I-84/ID-25 7.00 miles East to Burley ID
then take L---I-84 7.30 miles East to Heyburn ID
then take L---I-84 2.80 miles East to Heyburn ID
then take L---I-84/US-30 5.74 miles East to Declo ID
then take L---I-84/US-30 5.32 miles East to Declo ID
then take L---I-84 52.61 miles South-East to Snowville UT
then take L---I-84 3.42 miles South-East to Snowville UT
then take L---I-84/UT-30 21.77 miles East to Howell UT

then take L---I-84/UT-30 13.11 miles South-East to Tremonton UT
then take L---I-15/I-84 3.80 miles South-East to Elwood UT
then take L---I-15/I-84 10.84 miles South-East to Brigham City UT
then take L---I-15/I-84 2.92 miles South to Brigham City UT
then take L---I-15/I-84 17.31 miles South to Marriott-Slaterville UT
then take L---I-15/I-84 4.59 miles South to Riverdale UT
then take L---I-15 14.81 miles South-East to Farmington UT
then take L---I-15 10.38 miles South to North Salt Lake UT
then take L---I-15 1.23 miles South to North Salt Lake UT
then take L---I-15 3.17 miles South to Salt Lake City UT
then take L---I-15 0.57 miles South to Salt Lake City UT
then take L---I-15/I-80 0.54 miles South to Salt Lake City UT
then take L---I-15/I-80 0.86 miles South-East to Salt Lake City UT
then take L---I-15/I-80 1.31 miles South to South Salt Lake UT
then take L---I-15/I-80 0.55 miles South to South Salt Lake UT
then take L---I-15 5.67 miles South to Murray UT
then take L---I-15 1.62 miles South to Midvale UT
then take L---I-15 1.47 miles South to Midvale UT
then take L---I-15 4.53 miles South to Draper UT
then take L---I-15/US-89 6.39 miles South to Lehi UT
then take L---I-15/US-89 3.88 miles South-East to Lehi UT
then take L---I-15/US-89 1.48 miles South-East to American Fork UT
then take P---US-89 8.03 miles South-East to Orem UT
then take P---US-89 5.65 miles South-East to Provo UT
then take P---US-89 10.81 miles South-East to Spanish Fork UT
then take P---US-6/US-89 7.56 miles South-East to Woodland Hills UT
then take P---US-6 38.12 miles South-East to Helper UT
then take P---US-6/US-191 5.98 miles South to Helper UT
then take P---? 3.77 miles South-East to Price UT
then take P---? 1.16 miles East to Price UT
then take P---US-6/US-191 50.82 miles South-East to Green River UT
then take L---I-70/US-6/US-50 23.61 miles East to Green River UT
then take P---US-191 49.19 miles South-East to La Sal UT
then take P---US-191 30.21 miles South to Monticello UT
then take P---US-666 16.75 miles East to Dove Creek CO
then take P---US-666 6.10 miles East to Dove Creek CO
then take P---US-666 25.55 miles South-East to Dolores CO
then take P---US-666 10.39 miles South-East to Cortez CO
then take P---US-160 1.74 miles East to Cortez CO
then take P---US-160 28.32 miles East to Durango CO
then take P---US-160 8.71 miles East to Durango CO
then take P---US-160/US-550 3.90 miles South-East to Durango CO
then take P---US-160 3.15 miles East to Durango CO
then take P---US-160 29.09 miles East to Pagosa Springs CO
then take P---US-160 15.04 miles East to Pagosa Springs CO
then take P---US-84 22.76 miles South-East to Dulce NM

then take P---US-84 6.21 miles South to Dulce NM
then take L---US-64 0.32 miles South-East to Dulce NM
then take P---US-64/US-84 12.28 miles East to Chama NM
then take P---US-64/US-84 8.23 miles South to Chama NM
then take T---NM-573 5.21 miles South to Chama NM
then take P---US-84 13.28 miles South to Chama NM
then take P---US-84 17.43 miles South to Alcalde NM
then take P---US-84 19.31 miles South-East to Alcalde NM
then take P---US-84/US-285 6.34 miles South-East to Espanola NM
then take P---US-84/US-285 1.81 miles East to Santa Cruz NM
then take P---US-84/US-285 0.69 miles South-East to Santa Cruz NM
then take P---US-84/US-285 6.39 miles South to Pojoaque NM
then take P---US-84/US-285 13.77 miles South to Santa Fe NM
then take P---? 1.55 miles South-East to Santa Fe NM
then take P---? 2.87 miles South to Santa Fe NM
then take P---US-285 1.50 miles South-East to Santa Fe NM
then take L---I-25/US-84 5.68 miles South-East to Canada de los Alamos NM
then take P---US-285 6.74 miles South to Lamy NM
then take P---US-285 33.77 miles South-East to Moriarty NM
then take P---US-285 26.50 miles South-East to Encino NM
then take P---US-60/US-285 14.51 miles East to Vaughn NM
then take P---US-54/US-60/US-285 2.33 miles East to Vaughn NM
then take P---US-54/US-60 1.31 miles East to Vaughn NM
then take P---US-60 52.47 miles East to Fort Sumner NM
then take P---US-60 1.11 miles East to Fort Sumner NM
then take P---US-60/US-84 13.88 miles East to Fort Sumner NM
then take P---US-60/US-84 21.16 miles East to Melrose NM
then take P---US-60/US-84 1.53 miles East to Melrose NM
then take P---US-60/US-84 23.50 miles East to Clovis NM
then take P---US-60/US-70/US-84 8.14 miles East to Texico NM
then take P---US-60/US-70/US-84 0.31 miles East to Texico NM
then take P---US-60/US-70/US-84 0.50 miles East to Farwell TX
then take P---US-70/US-84 20.93 miles South-East to Muleshoe TX
then take P---US-84 28.06 miles South-East to Littlefield TX
then take P---? 3.04 miles South-East to Littlefield TX
then take P---? 1.81 miles South-East to Littlefield TX
then take P---US-84 30.94 miles South-East to Lubbock TX
then take P---US-84 2.49 miles South-East to Lubbock TX
then take P---US-84 0.22 miles South to Lubbock TX
then take P---US-84 0.89 miles South to Lubbock TX
then take P---US-84 2.83 miles South to Lubbock TX
then take P---US-84 1.49 miles East to Lubbock TX
then take P---US-84 34.61 miles South-East to Post TX
then take P---US-380 0.48 miles East to Post TX
then take P---US-84 36.52 miles South-East to Snyder TX
then take P---US-84 4.56 miles South-East to Snyder TX

then take P---US-84 3.55 miles South-East to Snyder TX
then take P---US-84 1.03 miles South-East to Snyder TX
then take P---US-84 26.80 miles South-East to Roscoe TX
then take L---I-20/US-84 2.26 miles East to Sweetwater TX
then take T---? 3.95 miles East to Sweetwater TX
then take T---? 2.47 miles East to Sweetwater TX
then take L---I-20/US-84 29.93 miles East to Tye TX
then take PB--bus-I-20/US-84 3.46 miles East to Abilene TX
then take PB--bus-I-20 3.06 miles East to Abilene TX
then take PB--bus-US-83 0.90 miles South-East to Abilene TX
then take T---TX-36 2.38 miles East to Abilene TX
then take T---TX-36 21.99 miles South-East to Baird TX
then take T---TX-36 15.73 miles South-East to Cross Plains TX
then take T---TX-206 1.20 miles South to Cross Plains TX
then take T---TX-279 27.98 miles South-East to Brownwood TX
then take P---US-67/US-84 0.90 miles East to Brownwood TX
then take P---US-67/US-84/US-377 1.15 miles East to Early TX
then take P---US-67/US-84/US-183/US-377 0.97 miles North-East to Early TX
then take P---US-84/US-183 10.30 miles East to Blanket TX
then take O---? 0.13 miles East to Blanket TX
then take P---US-84/US-183 18.98 miles South-East to Goldthwaite TX
then take P---US-84/US-183/TX-16 1.68 miles South to Goldthwaite TX
then take P---US-84/US-183/TX-16 0.95 miles South to Goldthwaite TX
then take P---US-183 19.39 miles South-East to Lometa TX
then take P---US-183/US-190 14.79 miles South-East to Lampasas TX
then take P---US-183/US-190/US-281 1.30 miles South to Lampasas TX
then take P---US-183/US-190/US-281 0.76 miles South to Lampasas TX
then take P---US-183 22.45 miles South-East to Florence TX
then take P---US-183 12.54 miles South to Liberty Hill TX
then take P---US-183 20.95 miles South-East to Jollyville TX
then take P---US-183 0.98 miles South-East to Austin TX
then take P---US-183 1.94 miles South-East to Austin TX
then take P---US-183 0.87 miles South-East to Austin TX
then take L---I-35 1.26 miles South to Austin TX
then take L---I-35/US-290 1.92 miles South-West to Austin TX
then continue 1.75 miles to Austin TX

Total distance: 1987.39 miles.

Jonathan Lugo

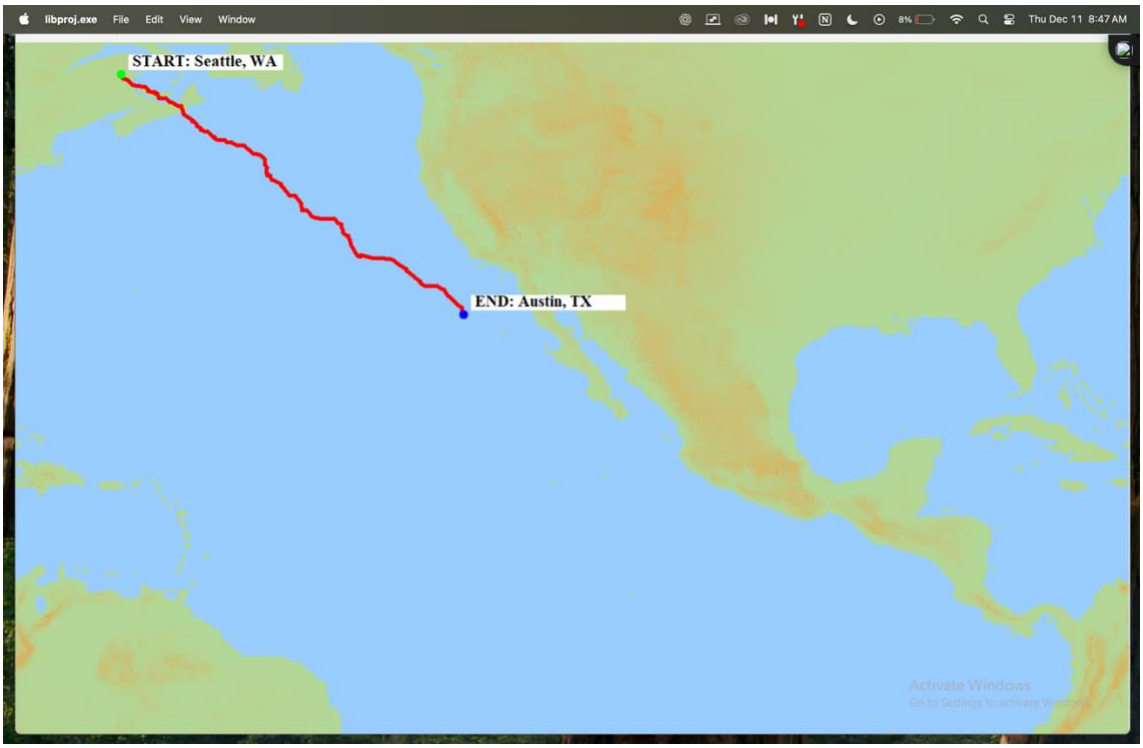

Test Case 5:

Shortest Path Finder
Enter starting point: Vancouver
Enter destination: Miami
Multiple states found. Please select:
1. AZ Arizona
2. FL Florida
3. MO Missouri
4. OK Oklahoma
5. TX Texas
Enter choice (1-5): 2

Finding shortest path from Vancouver WA to Miami FL...
Start at 1.90 miles from Vancouver WA
then take L---I-205 3.66 miles South to Vancouver WA
then take P---WA-14 8.15 miles East to Camas WA
then take T---WA-14 2.05 miles East to Washougal WA
then take O---? 8.79 miles East to Washougal WA
then take T---WA-14 34.59 miles East to White Salmon WA
then take T---WA-14 9.99 miles East to Lyle WA
then take T---WA-14 7.02 miles East to Dallesport WA
then take T---WA-14 16.25 miles East to Maryhill WA
then take T---WA-14 0.39 miles East to Maryhill WA
then take P---US-97 1.37 miles South to Maryhill WA
then take P---US-97 1.03 miles South-East to Biggs Junction OR
then take L---I-84/US-30 30.38 miles East to Arlington OR

then take L---I-84/US-30 8.81 miles East to Roosevelt WA
then take L---I-84/US-30 20.26 miles East to Boardman OR
then take L---I-84/US-30 11.69 miles East to Hermiston OR
then take L---I-84/US-30 2.94 miles East to Hermiston OR
then take L---I-84/US-30 6.02 miles East to Stanfield OR
then take L---I-84/US-30/US-395 18.54 miles East to Pendleton OR
then take P---US-30 1.45 miles East to Pendleton OR
then take P---US-30/OR-37 0.89 miles East to Pendleton OR
then take P---US-30 1.05 miles East to Pendleton OR
then take P---OR-11 0.73 miles East to Riverside OR
then take L---I-84/US-30 34.04 miles South-East to La Grande OR
then take L---I-84/US-30 8.19 miles East to Island City OR
then take L---I-84/US-30 2.98 miles South-East to Island City OR
then take L---I-84/US-30 19.02 miles South to North Powder OR
then take L---I-84 0.93 miles South-East to North Powder OR
then take T---US-30 16.54 miles South to Baker City OR
then take T---US-30 2.25 miles South-East to Baker City OR
then take L---I-84/US-30 36.46 miles South-East to Huntington OR
then take T---? 6.55 miles South-East to Huntington OR
then take L---I-84/US-30 3.55 miles South-East to Huntington OR
then take L---I-84/US-30 18.74 miles South-East to Ontario OR
then take L---I-84/US-30 0.85 miles South-East to Ontario OR
then take L---I-84 1.34 miles South-East to Fruitland ID
then take L---I-84 2.55 miles South-East to Fruitland ID
then take L---I-84 6.89 miles South-East to New Plymouth ID
then take L---I-84/US-30 14.89 miles South-East to Caldwell ID
then take L---I-84/US-30 1.15 miles South-East to Caldwell ID
then take L---I-84/US-20/US-26/US-30 0.79 miles South to Caldwell ID
then take L---I-84/US-20/US-26/US-30 1.75 miles South-East to Caldwell ID
then take L---I-84/US-30 5.37 miles South-East to Nampa ID
then take L---I-84/US-30 0.93 miles East to Nampa ID
then take L---I-84/ID-55/US-30 2.98 miles East to Nampa ID
then take L---I-84/US-30/ID-55 5.96 miles East to Meridian ID
then take L---I-84/US-30 2.00 miles East to Meridian ID
then take L---I-84/US-30 3.35 miles East to Boise City ID
then take L---I-84/US-30 2.65 miles South-East to Boise City ID
then take L---I-84/US-30 1.54 miles East to Boise City ID
then take L---I-84/US-30 0.94 miles East to Boise City ID
then take L---I-84/US-20/US-26/US-30 2.50 miles South-East to Boise City ID
then take L---I-84/US-20/US-26/US-30 32.55 miles South-East to Mountain Home ID
then take L---I-84/US-20/US-26/US-30 5.29 miles South-East to Mountain Home ID
then take L---I-84/US-26/US-30 4.09 miles South-East to Mountain Home ID
then take L---I-84/US-26/US-30 11.16 miles South-East to Glenns Ferry ID
then take L---I-84/US-26/US-30 2.27 miles East to Glenns Ferry ID
then take L---I-84/US-26/US-30 7.19 miles East to Glenns Ferry ID
then take TB--bus-I-84 7.44 miles East to Glenns Ferry ID

then take L---I-84/US-26/US-30 9.83 miles East to Bliss ID
then take L---I-84/US-26 1.42 miles South-East to Bliss ID
then take L---I-84 15.78 miles South-East to Wendell ID
then take L---I-84 8.44 miles East to Jerome ID
then take T---ID-25 1.46 miles East to Jerome ID
then take T---ID-25 3.83 miles East to Jerome ID
then take T---ID-25 12.02 miles South-East to Eden ID
then take O---ID-25 10.32 miles East to Hazelton ID
then take L---I-84/ID-25 7.00 miles East to Burley ID
then take L---I-84 7.30 miles East to Heyburn ID
then take L---I-84 2.80 miles East to Heyburn ID
then take L---I-84/US-30 5.74 miles East to Declo ID
then take L---I-84/US-30 5.32 miles East to Declo ID
then take L---I-84 52.61 miles South-East to Snowville UT
then take L---I-84 3.42 miles South-East to Snowville UT
then take L---I-84/UT-30 21.77 miles East to Howell UT
then take L---I-84/UT-30 13.11 miles South-East to Tremonton UT
then take T---UT-30 3.12 miles East to Tremonton UT
then take T---UT-30 2.68 miles East to Deweyville UT
then take T---UT-30 4.64 miles North to Fielding UT
then take T---UT-30 13.82 miles East to Logan UT
then take P---US-89/UT-30 26.61 miles North-East to Garden City UT
then take P---UT-30 18.42 miles South-East to Randolph UT
then take P---UT-30 4.07 miles East to Randolph UT
then take P---WY-89 4.34 miles North-East to Randolph UT
then take P---US-30 21.05 miles East to Kemmerer WY
then take P---US-30 2.15 miles South-East to Diamondville WY
then take P---US-30 11.33 miles East to Opal WY
then take P---US-30 26.35 miles South-East to Little America WY
then take L---I-80/US-30 16.50 miles East to James Town WY
then take L---I-80/US-30 5.24 miles East to James Town WY
then take L---I-80 3.07 miles South-East to Green River WY
then take L---I-80/US-30 7.48 miles East to Purple Sage WY
then take L---I-80/US-30/US-191 2.78 miles East to Clearview Acres WY
then take T---US-30/US-191 2.02 miles North-East to Rock Springs WY
then take T---US-30 1.18 miles North-East to Rock Springs WY
then take L---I-80/US-30 76.60 miles East to Wamsutter WY
then take L---I-80/US-30/WY-789 23.75 miles East to Rawlins WY
then take P---US-30/WY-789 1.60 miles East to Rawlins WY
then take P---US-30/US-287 0.32 miles East to Rawlins WY
then take P---US-30/US-287 1.84 miles East to Rawlins WY
then take P---US-30/US-287 1.05 miles East to Rawlins WY
then take L---I-80/US-30/US-287 18.47 miles East to Sinclair WY
then take L---I-80 19.18 miles East to Elk Mountain WY
then take L---I-80 15.55 miles South-East to Elk Mountain WY
then take L---I-80 36.77 miles South-East to Laramie WY

then take L---I-80 1.27 miles South-East to Laramie WY
then take P---US-287 22.77 miles South-East to The Buttes WY
then take P---US-287 25.79 miles South-East to Laporte CO
then take P---US-287/CO-14 6.92 miles South-East to Fort Collins CO
then take P---US-287/CO-14 2.29 miles South to Fort Collins CO
then take T---CO-14 3.94 miles East to Timnath CO
then take T---CO-14 14.20 miles East to Ault CO
then take T---CO-14 22.21 miles East to Grover CO
then take T---CO-14 27.01 miles East to Raymer CO
then take T---CO-14 6.80 miles East to Raymer CO
then take T---CO-14/CO-71 4.29 miles East to Raymer CO
then take T---CO-14 19.97 miles East to Sterling CO
then take P---US-6 2.61 miles East to Sterling CO
then take P---US-6 0.51 miles East to Sterling CO
then take P---US-6 27.79 miles East to Haxtun CO
then take P---US-6 17.33 miles East to Holyoke CO
then take P---US-6 13.12 miles East to Lamar NE
then take P---US-6 22.52 miles East to Imperial NE
then take P---US-6/NE-61 7.95 miles South-East to Wauneta NE
then take P---US-6 28.05 miles East to Palisade NE
then take P---US-6 8.15 miles South-East to Culbertson NE
then take P---US-6/US-34 2.48 miles East to Culbertson NE
then take P---US-6/US-34 10.60 miles East to McCook NE
then take P---US-6/US-34/US-83 1.31 miles East to McCook NE
then take P---US-83 12.86 miles South to Danbury NE
then take P---US-83 0.82 miles South to Danbury NE
then take P---US-83 12.28 miles South to Oberlin KS
then take P---US-36 28.26 miles East to Norton KS
then take P---US-36/KS-383 5.92 miles East to Norton KS
then take P---US-36/KS-383 5.88 miles East to Almena KS
then take P---US-36 24.50 miles East to Phillipsburg KS
then take P---US-36/US-183 1.05 miles East to Phillipsburg KS
then take P---US-183 4.92 miles South to Glade KS
then take T---KS-9 28.13 miles East to Gaylord KS
then take P---US-281/KS-9 10.27 miles South-East to Portis KS
then take P---US-24/KS-9 7.88 miles East to Downs KS
then take P---US-24/KS-9 10.89 miles East to Glen Elder KS
then take P---US-24/KS-9 12.07 miles East to Beloit KS
then take P---US-24/KS-9 0.70 miles East to Beloit KS
then take P---US-24 24.66 miles East to Delphos KS
then take P---US-24 28.74 miles East to Clay Center KS
then take P---US-24 11.05 miles East to Leonardville KS
then take P---US-24 6.53 miles South-East to Riley KS
then take P---US-24/US-77 4.05 miles East to Riley KS
then take P---US-24 7.78 miles East to Manhattan KS
then take P---US-24 1.02 miles East to Manhattan KS

then take P---US-24 4.99 miles South-East to Manhattan KS
then take P---US-24 13.48 miles East to Wamego KS
then take P---US-24 12.99 miles East to St. Marys KS
then take P---US-24 19.26 miles East to Topeka KS
then take L---US-75/KS-4 2.21 miles South to Topeka KS
then take L---I-70/US-40 2.44 miles East to Topeka KS
then take L---I-70/US-40 1.95 miles East to Topeka KS
then take T---US-40 8.01 miles East to Lecompton KS
then take T---US-40 13.25 miles East to Lawrence KS
then take P---US-59 2.10 miles South to Lawrence KS
then take P---KS-10 4.10 miles East to Lawrence KS
then take L---KS-10 8.76 miles East to Linwood KS
then take L---KS-10 9.12 miles East to Olathe KS
then take L---KS-10 4.44 miles East to Lenexa KS
then take L---I-435 1.51 miles East to Lenexa KS
then take L---I-435/US-50 2.14 miles East to Overland Park KS
then take L---US-69 2.79 miles South-East to Overland Park KS
then take L---US-69/US-169 1.29 miles South to Leawood KS
then take T---KS-150 3.69 miles East to Leawood KS
then take T---MO-150 4.95 miles South-East to Belton MO
then take L---US-71 16.11 miles South-East to Harrisonville MO
then take L---US-71 0.41 miles South to Harrisonville MO
then take L---US-71 2.32 miles South to Harrisonville MO
then take P---MO-7 35.05 miles East to Clinton MO
then take P---MO-7/MO-13 0.81 miles South-East to Clinton MO
then take P---MO-7/MO-13/MO-52 0.83 miles South to Clinton MO
then take T---MO-7 22.89 miles East to Warsaw MO
then take P---US-65/MO-7 2.06 miles South-East to Warsaw MO
then take P---US-65/MO-7 3.82 miles South-East to Warsaw MO
then take P---US-65 17.61 miles South-East to Preston MO
then take P---US-65 13.77 miles South to Louisburg MO
then take T---MO-64 3.54 miles East to Louisburg MO
then take T---MO-64 22.32 miles East to Lebanon MO
then take T---MO-5 0.27 miles South-East to Lebanon MO
then take P---MO-5/MO-32 1.28 miles South-East to Lebanon MO
then take T---MO-32 23.26 miles South-East to Twin Bridges MO
then take T---MO-95 13.22 miles South to Hartville MO
then take T---MO-95 10.52 miles South to Mountain Grove MO
then take L---US-60 5.16 miles East to Mountain Grove MO
then take L---US-60 4.19 miles East to Cabool MO
then take L---US-60 2.27 miles South-East to Cabool MO
then take P---US-60/US-63 8.49 miles South-East to Willow Springs MO
then take P---US-60/US-63 3.64 miles South-East to Willow Springs MO
then take P---US-60/US-63 0.85 miles East to Willow Springs MO
then take P---US-63 11.88 miles South to West Plains MO
then take P---US-63 4.50 miles South-East to West Plains MO

then take PB--bus-US-63 1.79 miles South-East to West Plains MO
then take PB--bus-US-63 2.45 miles South-East to West Plains MO
then take P---US-63 18.42 miles South-East to Thayer MO
then take P---US-63 2.17 miles South-East to Thayer MO
then take P---US-63 1.75 miles South to Mammoth Spring AR
then take P---US-63 0.09 miles South to Mammoth Spring AR
then take P---US-63 12.68 miles South to Hardy AR
then take P---US-62/US-63/US-412 18.54 miles East to Imboden AR
then take P---US-62/US-63/US-412/AR-115 0.36 miles East to Imboden AR
then take P---US-63/US-412 8.16 miles South-East to Black Rock AR
then take P---US-63/US-412 3.76 miles South-East to Portia AR
then take P---US-63 3.86 miles East to Hoxie AR
then take P---US-63 17.37 miles South-East to Bono AR
then take P---US-63 4.62 miles South-East to Jonesboro AR
then take P---US-49/US-63 1.18 miles East to Jonesboro AR
then take P---US-49/US-63 1.68 miles East to Jonesboro AR
then take P---US-63 1.65 miles East to Jonesboro AR
then take P---US-63 19.70 miles South-East to Marked Tree AR
then take P---US-63 4.25 miles East to Marked Tree AR
then take P---US-63 1.18 miles East to Marked Tree AR
then take P---US-63 5.39 miles South-East to Tyronza AR
then take P---US-63 6.39 miles South-East to Gilmore AR
then take P---US-63/AR-77 0.25 miles South-East to Turrell AR
then take L---I-55/US-61 13.02 miles South to Marion AR
then take L---I-55/US-61 2.87 miles South to West Memphis AR
then take L---I-40/I-55/US-61 2.63 miles East to West Memphis AR
then take L---I-55/US-61/US-64 0.78 miles South-East to West Memphis AR
then take L---I-55/US-61/US-64 0.63 miles East to West Memphis AR
then take L---I-55/US-61/US-70 3.02 miles East to West Memphis AR
then take L---I-55/US-61/US-64/US-70/US-79 0.52 miles South-East to Memphis TN
then take P---US-61/US-64/US-70/US-79/TN-1 0.70 miles East to Memphis TN
then take P---US-64/US-70/US-79/TN-1 0.63 miles East to Memphis TN
then take P---US-78/TN-4 1.11 miles East to Memphis TN
then take P---US-78/TN-4 0.29 miles South-East to Memphis TN
then take P---US-78/TN-4 5.10 miles South-East to Memphis TN
then take P---US-78/TN-4 7.40 miles South-East to Olive Branch MS
then take P---US-78 2.97 miles South-East to Olive Branch MS
then take L---US-78 0.69 miles South-East to Olive Branch MS
then take L---US-78 22.97 miles South-East to Holly Springs MS
then take L---US-78 3.05 miles South-East to Holly Springs MS
then take L---US-78 4.29 miles South-East to Holly Springs MS
then take P---US-78 13.75 miles South-East to Hickory Flat MS
then take P---US-78 5.66 miles South-East to Myrtle MS
then take L---US-78 6.31 miles South-East to New Albany MS
then take L---US-78/MS-30 2.35 miles South-East to New Albany MS
then take L---US-78 16.98 miles South-East to Sherman MS

then take L---US-78 3.27 miles East to Tupelo MS
then take L---US-78 0.92 miles South-East to Tupelo MS
then take L---US-78 0.68 miles South-East to Tupelo MS
then take L---US-78 7.65 miles East to Mantachie MS
then take L---US-78 6.32 miles East to Fulton MS
then take L---US-78 3.47 miles East to Fulton MS
then take L---US-78 3.16 miles East to Fulton MS
then take L---US-78 8.45 miles East to Tremont MS
then take L---US-78 1.31 miles South-East to Tremont MS
then take L---US-78/AL-4/AL-138 7.17 miles East to Hamilton AL
then take T---AL-4 5.08 miles South-East to Hamilton AL
then take P---US-278/AL-4 14.77 miles East to Brilliant AL
then take P---US-278/AL-4 7.53 miles East to Natural Bridge AL
then take P---US-278/AL-4/AL-13 0.40 miles East to Natural Bridge AL
then take T---AL-4/AL-5 24.82 miles South-East to Jasper AL
then take P---US-78/AL-4/AL-5 3.15 miles East to Jasper AL
then take P---US-78/AL-4/AL-5 30.95 miles South-East to Birmingham AL
then take L---I-20/I-59 1.33 miles East to Birmingham AL
then take L---I-65 0.45 miles South-East to Birmingham AL
then take P---US-78/AL-4 1.30 miles East to Birmingham AL
then take T---US-78/AL-4 0.46 miles East to Birmingham AL
then take T---US-31/US-280/AL-3/AL-38 2.11 miles South to Homewood AL
then take T---US-280/AL-38 4.34 miles South-East to Cahaba Heights AL
then take P---US-280/AL-38 18.14 miles East to Harpersville AL
then take P---US-231/US-280/AL-38 4.72 miles South-East to Childersburg AL
then take P---US-231/US-280/AL-38/AL-76 1.97 miles South-East to Childersburg AL
then take P---US-231/US-280/AL-38 10.82 miles South-East to Gantts Quarry AL
then take P---US-280/AL-38 15.23 miles South-East to Goodwater AL
then take P---US-280/AL-38 6.88 miles South-East to Alexander City AL
then take P---US-280/AL-38 1.68 miles South-East to Alexander City AL
then take P---US-280/AL-38 10.79 miles East to Dadeville AL
then take P---US-280/AL-38/AL-49 1.69 miles South-East to Dadeville AL
then take P---US-280/AL-38 6.45 miles East to Camp Hill AL
then take P---US-280/AL-38 12.40 miles South-East to Waverly AL
then take P---US-280/AL-38/AL-147 0.52 miles South-East to Auburn AL
then take P---US-280/AL-38 5.23 miles South-East to Opelika AL
then take P---US-29/US-280/AL-15/AL-38 2.00 miles North-East to Opelika AL
then take P---US-280/AL-1/AL-38 0.89 miles South-East to Opelika AL
then take P---US-280/AL-1/AL-38 0.86 miles East to Opelika AL
then take P---US-280/US-431/AL-1/AL-38 0.26 miles East to Opelika AL
then take P---US-280/US-431/AL-1/AL-38 20.92 miles South-East to Phenix City AL
then take P---US-80/US-280/US-431/AL-1/AL-8/AL-38 1.51 miles South-East to Phenix City AL
then take P---US-280/US-431/AL-1 1.79 miles South-East to Phenix City AL
then take P---US-280 0.92 miles East to Phenix City AL
then take P---US-280 0.53 miles East to Phenix City AL

then take P---US-27/US-280/GA-1/GA-520 4.89 miles South-East to Fort Benning South GA
then take P---US-27/US-280/GA-1/GA-520 9.62 miles South-East to Cusseta GA
then take P---US-27/US-280/GA-1/GA-520 1.57 miles East to Cusseta GA
then take P---GA-520 16.31 miles South-East to Richland GA
then take P---GA-520 8.15 miles South-East to Weston GA
then take P---GA-520 16.17 miles South-East to Dawson GA
then take P---GA-45/GA-520 1.49 miles South to Dawson GA
then take P---US-82/GA-520 17.43 miles South-East to Albany GA
then take L---US-82/GA-520 2.44 miles East to Albany GA
then take L---US-19/US-82/GA-3/GA-520 1.35 miles East to Albany GA
then take L---US-19/US-82/GA-3/GA-520 3.12 miles South-East to Albany GA
then take P---US-19/GA-3/GA-300 2.02 miles South to Albany GA
then take T---GA-133 12.72 miles South-East to Doerun GA
then take T---GA-133 16.44 miles South-East to Riverside GA
then take T---GA-33/GA-133 1.96 miles South to Riverside GA
then take P---US-319/GA-33/GA-35/GA-133 1.81 miles South-East to Moultrie GA
then take P---US-319/GA-33/GA-35/GA-133 0.89 miles South to Moultrie GA
then take T---GA-133 15.46 miles South-East to Berlin GA
then take T---GA-133 1.28 miles South-East to Morven GA
then take T---GA-133 5.77 miles South-East to Morven GA
then take T---GA-133 12.13 miles South-East to Remerton GA
then take L---I-75/GA-401 1.80 miles South-East to Remerton GA
then take L---I-75/GA-401 5.33 miles South-East to Dasher GA
then take L---I-75/GA-401 10.99 miles South-East to Jennings FL
then take L---I-75 9.55 miles South-East to Jennings FL
then take L---I-75 8.93 miles South-East to Jasper FL
then take L---I-75 16.51 miles South-East to White Springs FL
then take L---I-75 7.10 miles South-East to Lake City FL
then take L---I-75 1.16 miles South-East to Lake City FL
then take L---I-75 3.59 miles South-East to Lake City FL
then take L---I-75 8.71 miles South-East to Fort White FL
then take L---I-75 3.89 miles South-East to Worthington Springs FL
then take L---I-75 10.87 miles South to Alachua FL
then take L---I-75 11.34 miles South-East to Gainesville FL
then take L---I-75 3.53 miles South-East to Gainesville FL
then take L---I-75 1.33 miles South-East to Gainesville FL
then take L---I-75 25.51 miles South-East to Ocala FL
then take T---FL-326 4.37 miles South-East to Ocala FL
then take P---US-301/US-441 1.61 miles South to Ocala FL
then take P---US-27/US-301 0.75 miles South to Ocala FL
then take P---US-27/US-301 0.60 miles South to Ocala FL
then take P---US-27/US-301 9.74 miles South-East to Belleview FL
then take P---US-27/US-441 11.85 miles South-East to Lady Lake FL
then take P---US-27/US-441 7.19 miles South to Leesburg FL
then take P---US-27 1.26 miles South to Leesburg FL
then take P---US-27 4.59 miles South to Okahumpka FL

Jonathan Lugo

then take P---US-27 5.12 miles South to Yalaha FL
then take P---US-27 3.48 miles South-East to Howey-in-the-Hills FL
then take P---US-27 7.86 miles South-East to Clermont FL
then take P---US-27 14.33 miles South to Citrus Ridge FL
then take P---US-27 8.00 miles South to Loughman FL
then take P---US-27 8.87 miles South to Haines City FL
then take P---US-27 8.82 miles South to Waverly FL
then take P---US-27 5.89 miles South to Lake Wales FL
then take P---US-27 9.85 miles South to Frostproof FL
then take P---US-27 1.66 miles South-East to Frostproof FL
then take P---US-27/US-98 4.02 miles South to Frostproof FL
then take P---US-27/US-98 6.05 miles South-East to Avon Park FL
then take P---US-27/US-98 9.53 miles South-East to Sebring FL
then take P---US-27/US-98 3.40 miles South-East to Sebring FL
then take P---US-27 16.30 miles South to Placid Lakes FL
then take P---US-27 19.65 miles South to Port La Belle FL
then take P---US-27 9.76 miles South-East to Moore Haven FL
then take P---US-27 4.00 miles East to Moore Haven FL
then take P---US-27 6.06 miles South-East to Moore Haven FL
then take P---US-27 23.69 miles East to South Bay FL
then take P---US-27 39.64 miles South-East to Weston FL
then take P---US-27 13.55 miles South to Palm Springs North FL
then take P---US-27 4.39 miles South-East to Hialeah Gardens FL
then take P---US-27 5.18 miles South-East to Medley FL
then take P---US-27 4.90 miles South-East to Brownsville FL
then take L-T-FL-112 1.28 miles East to Brownsville FL
then take L-T-FL-112 2.10 miles East to Miami FL
then take L---I-95 1.43 miles South to Miami FL
then continue 1.42 miles to Miami FL
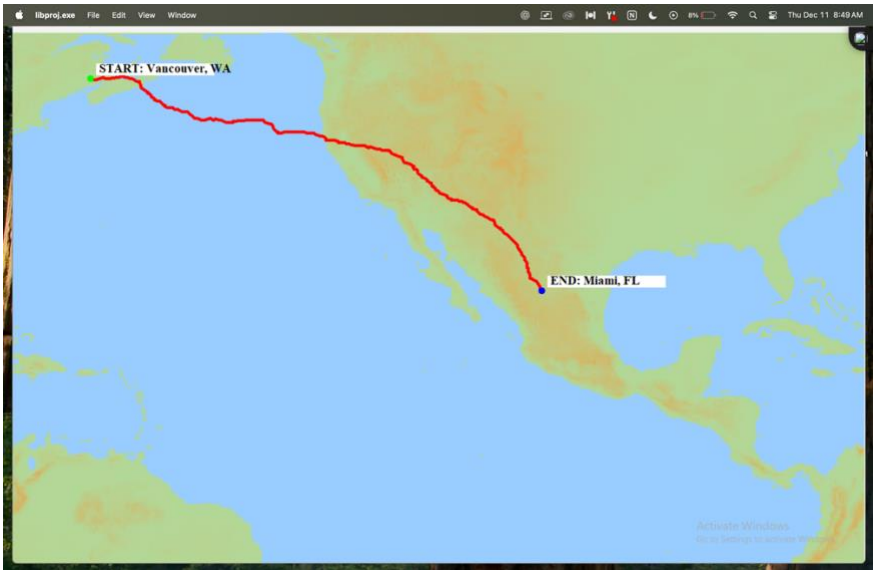
Total distance: 3030.40 miles.